3. FACILITY INFORMATION

3.1 GENERAL INFORMATION

General information about the facility is provided in Table 3-1A. Personnel and government entities who will be contacted in the event of a spill or discharge are provided in Table 3-1B.

Table 3-1A
Facility Information

Facility Name		Acadian 0806 11-2-1MH
Owner/Operator		Camino Natural Resources, LLC
Regulated Facility Type		Onshore Oil & Gas Production
Description of Facility		Facility processes oil and gas products
Date of Initial Facility Operation		2019
Hours per Day Normally Attended		Not attended. Inspected periodically and on a regular schedule.
Maximum Petroleum Product Storage Capacity		67,200 gal.
Normal Daily Product Throughput		68,460 gpd
Addresses	Mailing	Camino Natural Resources, LLC Office, 4727 Gaillardia Parkway, Suite 200 Oklahoma City, OK 73142
	Physical (if different)	1200 17th Street, Suite 2200, Denver, Colorado 80202
County		Grady County, Oklahoma
Latitude/Longitude (decimal degrees)	Latitude: N	35.17534°
	Longitude: W	97.79419°
Phone Numbers (Corporate/Emergency)	Day	720.405.2735
	Fax	-
	24-Hour	800.662.0492
"Qualified Individual" (Primary)	Name	Joe Garcia
	Position	EVP Operations
	Address	1200 17th Street, Suite 2200, Denver, Colorado 80202
	Work Phone	720.405.2719
	24-Hour Phone	720.405.2719

Table 3-1A
Facility Information (continued)

"Qualified Individual" (Alternate)	Name	Marty Smith
	Position	Production Superintendent
	Address	1401 17th Street, Suite 1000, Denver, Colorado 80202
	Work Phone	405.438.0178
	24-Hour Phone	806.280.8888

Table 3-1B
Discharge Notification

Regulatory Authorities	Phone Number	Circumstances
National Response Center	800.424.8802	Discharge reaching navigable waters.
Oklahoma Corporation Commission - District III	580.255.0103	Discharges that do not pose emergency conditions.
EPA Region VI	214.665.2200	Discharge or 1,000 gallons or more; or second discharge or 42 gallons or more over a 12-month period.
Local Emergency Responders		
Grady County Sheriff's Department	405.222.1000 (911)	1) Injury requiring hospitalization or fatality. 2) Fire, explosion, or other impact that could affect public safety. 3) Release exceeding 24-hour reportable quantity. 4) Impact to areas beyond the facility's confines.
Town of Amber Fire Department	405.222.2684 (911)	
Emergency Medical Services	911	
Company Contacts		
Joe Garcia	720.405.2719	
Marty Smith	806.280.8888	
Spill Response		
See Oil Spill Contingency Plan, Section 2 Basin Environmental Safety & Technologies - 405.232.5737 *Contact when the discharge exceeds the capacity of facility personnel to respond and clean up.*		

3.2 FACILITY DRAINAGE AND SPILL CONSEQUENCE

A description of off-site consequences of a spill, including general drainage of the facility, is provided in Table 3-2. This section describes the overall facility drainage and identifies the bodies of water which would be impacted by a spill.

A diagram of the facility is provided on page 4 of this plan, a location map is provided in Figure 3.2-1(a), driving directions to the facility is provided in Figure 3.2-1(b), and topographic map is provided in Figure 3.2-2.

In accordance with 40 CFR 112.7(a)(i), normal rainwater is allowed to evaporate. Under 40 CFR 112.8(c)(3)(iii) the bypass valves are opened and resealed under responsible supervision. Instances when accumulated rainwater reaches a volume that requires manual transfer, the owner/operator utilizes vacuum trucks and/or sump pumps to drain catch basins (if present) and secondary containment. In the event that manual transfer is not feasible, water can be recirculated into holding tanks to dispose of in accordance with regulatory standards. 40 CFR 112.8(c)(3)(ii) requires that retained rainwater is inspected to ensure that its presence will not cause a discharge as described in §112.1(b). As per 40 CFR 112.8(c)(3)(iv), adequate records of drainage are kept; for example, records required under permits issued in accordance with §122.41(j)(2) and (m)(3).

Table 3-2
Spill Consequence Information

FACILITY DRAINAGE	
Drainage Direction(s)	Northwest
Receiving Water(s)	Facility drains northwest offsite. Nearest waterway is an intermittent stream of Bushy Creek 632 feet southwest.
Containment and Diversionary Structures	Tank containment.
Flooding Potential	High

CAMINO NATURAL RESOURCES, LLC

SPCC/SITE FACILITY DIAGRAM

ASH 0807 36-1-1MH

N: 35.18007, W: 97.88382
SECTION 36 - T8N - R7W
GRADY COUNTY, OKLAHOMA

Revised:	N/A
Date Drawn:	August 28, 2019
Field Engineer:	Randy Ross
CAD Specialist:	Kimberly Hibler

LEGEND

- BERM
- CHEMICAL CONTAINMENT
- COMPRESSOR
- DIRECTION OF FLOW
- ELECTRIC BOX
- FENCE
- FLOW METER
- INJECTION WELL
- LOAD LINE
- LOAD LINE W/ DRIP BUCKET
- PRODUCING WELL
- PUMP
- SCRUBBER
- SURFACE FLOW
- TRANSFORMER

TANK DATA

#	CONTENTS	CAPACITY
1-2	OIL	16,800 GALLONS
3	OIL / SALT WATER	16,800 GALLONS
4	SALT WATER	16,800 GALLONS
5	HEATER TREATER	4,230 GALLONS
6-7	SEPARATOR	367 GALLONS

BASIN
ENVIRONMENTAL & SAFETY TECHNOLOGIES

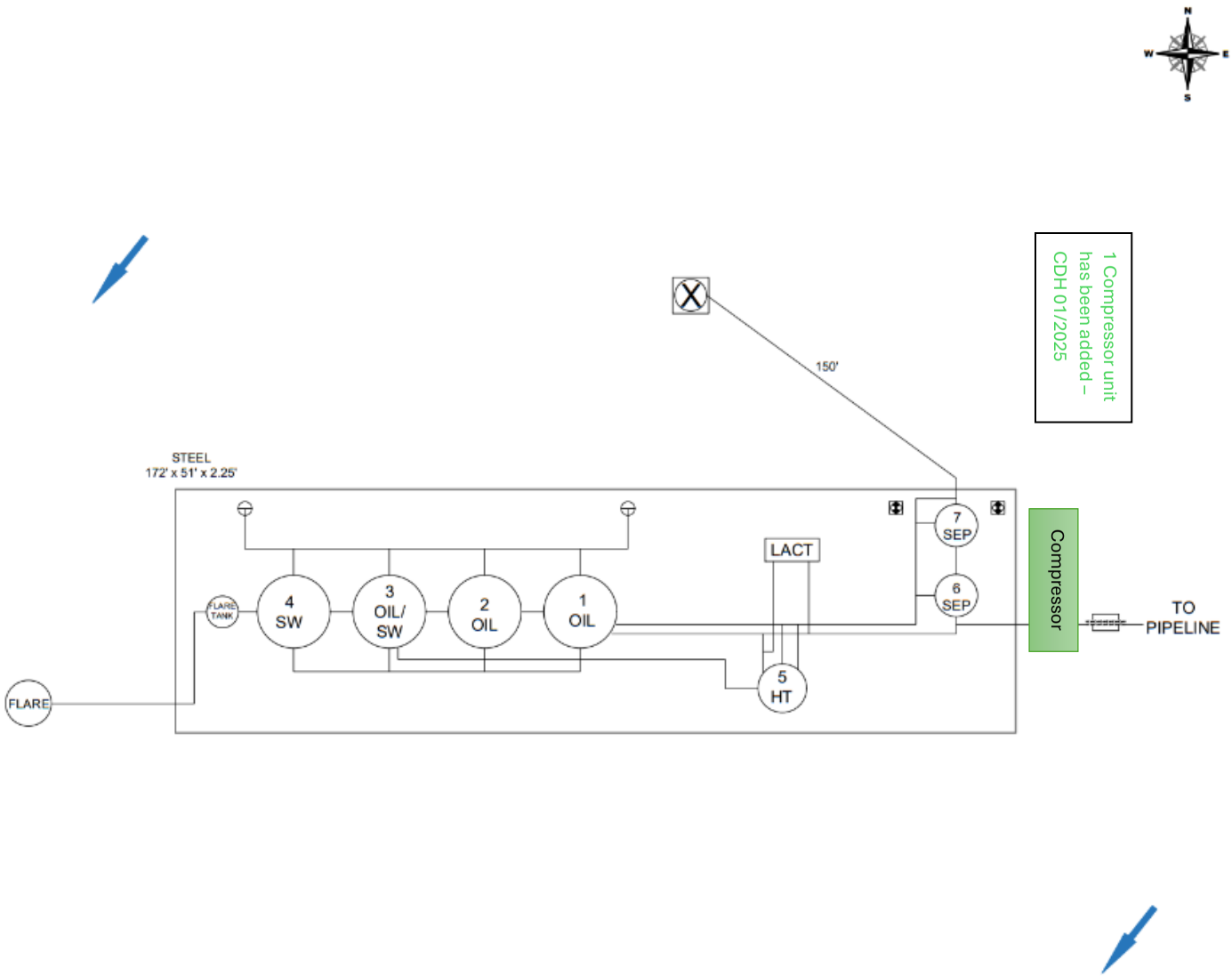

1 Compressor unit has been added – CDH 01/2025

Figure 3.2-1(a)
General Location Map

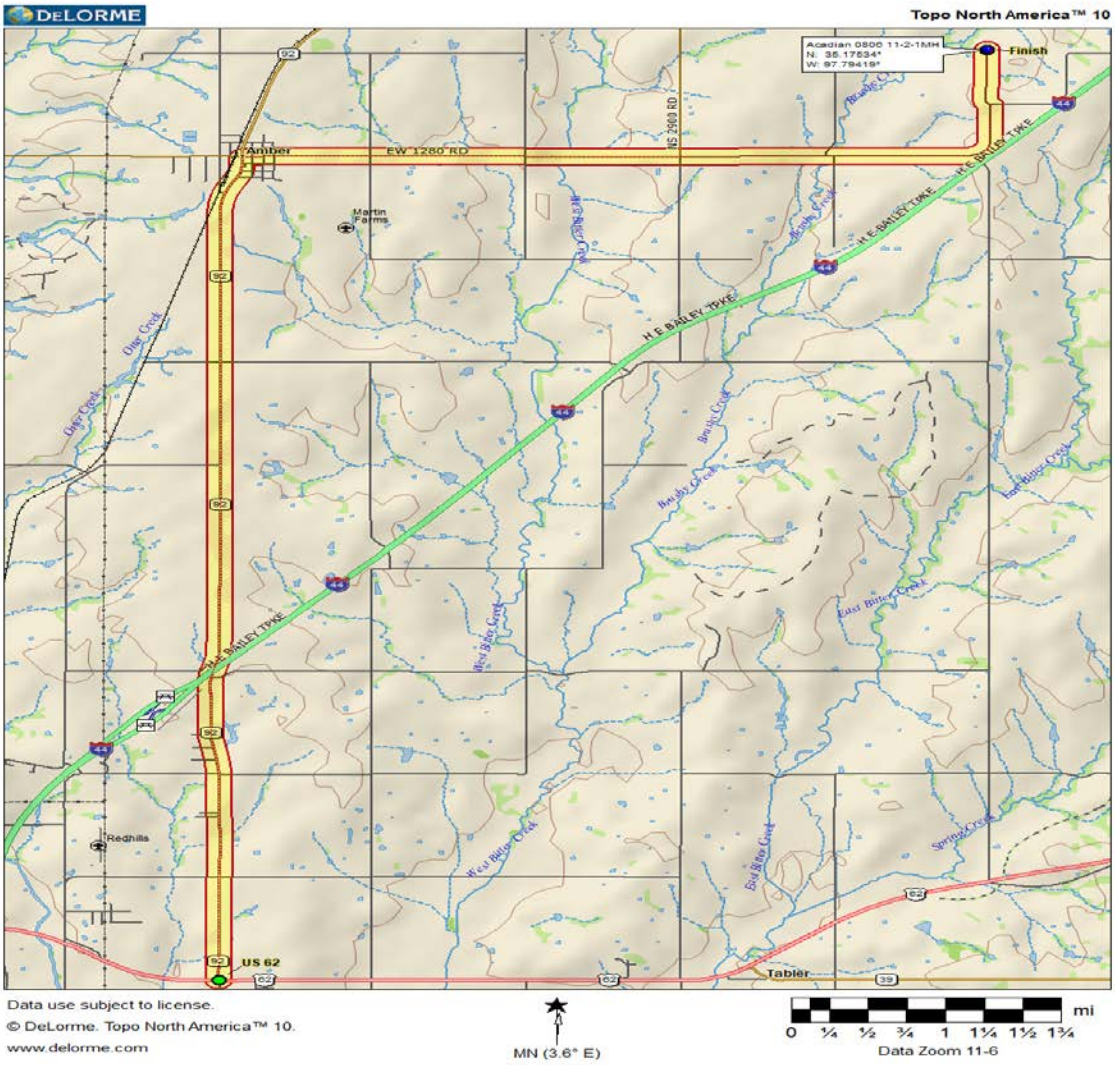

Figure 3.2-1(b)
Driving Directions

Turn Dist	Turn	Road	Finish Time	Finish Dist
	Depart US 62 (W)	US 62 (US 277|SR 9)	0:25:28	13.87 mi
0.00 mi	Turn right (N)	SR 92 (NS 2870 Rd)	0:25:28	13.87 mi
8.06 mi	Turn right (E)	EW 1280 Rd (Main St)	0:11:51	5.81 mi
4.74 mi	Keep left (NE)	NS 2920 Rd	0:02:31	1.07 mi
0.51 mi	Continue straight (N)	D1275 Rd	0:01:19	0.56 mi
0.01 mi	Keep left (NW)	<unnamed>	0:01:18	0.55 mi
0.55 mi	Continue straight (N)	Arrive at Finish	0:00:00	0.00 mi
	Arrive at Finish		0:00:00	0.00 mi

Figure 3.2-2
General Topographic Map

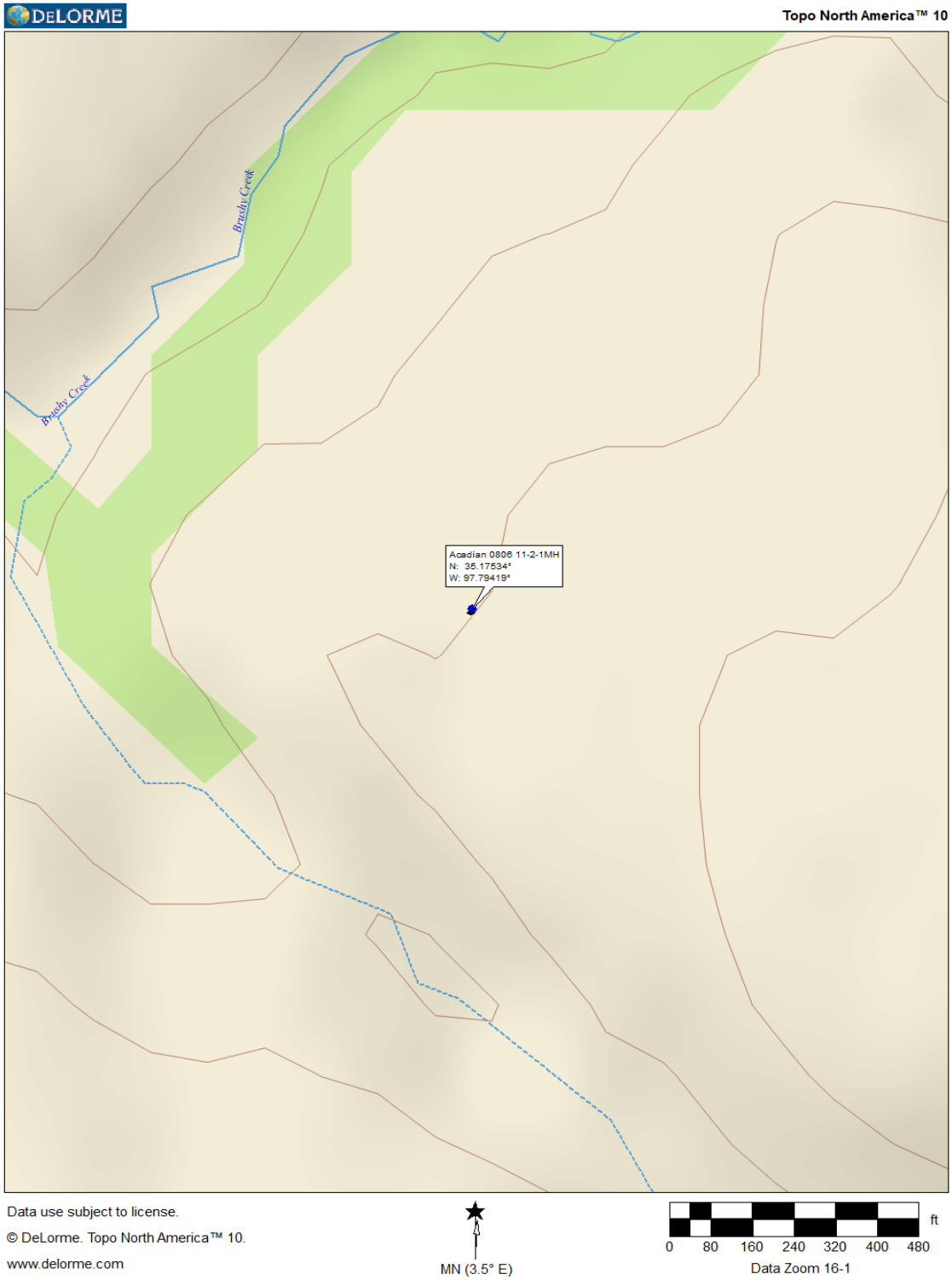

Facility Sign		Facility Overview
Process Equipment Overview		**Tank Overview**

3.3 SPILL HISTORY

As required by 40 CFR 112.4(a), this subsection includes a description of oil spill events, and discharge events of 42 gallons (one barrel) or greater occurring within the twelve months prior to the preparation of this plan. Table 3-3 includes spills which impacted navigable water. In addition, this subsection includes a discussion of any corrective action taken to mitigate the spill and steps taken to prevent the possibility of a potential recurrence.

Table 3-3
Oil Spill Record

Spill Date	Oil Type	Source	Quantity	Water Bodies Impacted	Cleanup Date

There have been no spill or discharge events (42 gallons or greater) during the 12 months prior to the preparation of this plan.

3.4 INSPECTIONS AND TESTS

3.4.1 Inspections

In accordance with 40 CFR 112.9(c)(3), inspections of aboveground storage tanks are to be performed on a yearly basis along with frequent visual observations of the tanks for signs of deterioration or leaks. Buried piping is examined for corrosion each time they are exposed 40 CFR 112.9(d)(4)(ii). In accordance with 40 CFR 112.9(d)(4), aboveground piping and valves are also examined on a yearly basis. Facility pumps are inspected per 40 CFR 112.9(d) requirements. Prior to discharge, (40 CFR 112.9(b)(1)) requires inspections for area drainage systems without treatment systems. These inspections are required to meet water quality objectives.

The inspections required by 40 CFR 112 will be performed in accordance with the written procedures developed for the facility. A record of the inspections, signed by the appropriate supervisor or inspector, is located in the files of the district office and is maintained for a period of at least three years. These inspections are conducted on a facility (tank battery) basis.

Table 3-4.1
Inspections Conducted by Camino Natural Resources, LLC

TYPE (frequency) (regulation number)	INSPECTION LOCATION	LOCATION WHERE WRITTEN PROCEDURE CAN BE FOUND	LOCATION OF INSPECTION RECORDS	WHO PERFORMS INSPECTIONS
ACCUMULATED RAINWATER (before draining) (40 CFR 112.9(b)(1)	Acadian 0806 11-2-1MH	Section 3.4.1	Corporate Office Files: 1401 17th Street, Suite 1000, Denver, Colorado 80202	Camino Natural Resources Personnel
VISUAL INSPECTION OF ASTs (ANNUAL) (40 CFR 112.9(c)(3))	Acadian 0806 11-2-1MH	Section 3.4.2	Corporate Office Files: 1401 17th Street, Suite 1000, Denver, Colorado 80202	Camino Natural Resources Personnel
AUTOMATIC SUMP PUMPS (ANNUAL)(40 CFR 112.9(d))	Acadian 0806 11-2-1MH	Section 3.4.1	Corporate Office Files: 1401 17th Street, Suite 1000, Denver, Colorado 80202	Camino Natural Resources Personnel
ABOVEGROUND PIPING AND VALVES (ANNUAL)(40 CFR 112.9(d))	Acadian 0806 11-2-1MH	Section 3.4.1	Corporate Office Files: 1401 17th Street, Suite 1000, Denver, Colorado 80202	Camino Natural Resources Personnel
FLOW-THROUGH PROCESS VESSELS (ANNUAL)(40 CFR 112.9(c)(5)(i))	Acadian 0806 11-2-1MH	Section 3.4.1	Corporate Office Files: 1401 17th Street, Suite 1000, Denver, Colorado 80202	Camino Natural Resources Personnel

3.5 TRAINING

To prevent the discharges of oil and to ensure compliance with applicable pollution control laws, rules, and regulations, Camino Natural Resources instructs the operating personnel in the proper use and maintenance of equipment (40 CFR 112.7(f)). Spill prevention training for operating personnel is scheduled and conducted on an annual basis to assure adequate understanding of the SPCC Plan for the facility. Such spill prevention-training highlights and describes known spill events or failures, malfunctioning components, and recently developed precautionary measures.

Personnel are trained in pollution control laws, rules and regulations, and in the operation and maintenance of equipment through continuing on-the-job training. The facility owners/operators are responsible for spill prevention training, operation and maintenance training, and training in regulatory requirements. See Table 3.5.1 for the training log sheet.

Table 3.5.1
Camino Natural Resources, LLC – Training Log Sheet

DATE	TYPE OF TRAINING	PERSONNEL PRESENT	INSTRUCTOR(S)

4. DESCRIPTION OF STORAGE

This section includes information on the types of oil storage tanks, materials and quantities of oil stored, and areas on the facility that are required to be covered under this SPCC plan as defined by 40 CFR 112.1. Tanks and containers included in this plan are aboveground storage tanks, mobile or portable storage tanks, piping, and other transfer equipment. The location of each item present is also identified.

4.1 ABOVEGROUND STORAGE TANKS

This subsection includes the information required by 40 CFR 112.7(a)(3)(i-iii), 112.7(b), 112.7(c). Table 4-1A provides information identifying location of tanks, capacity of tanks, tank material, type of material stored, year installed, and type of secondary containment. Table 4-1B contains a list of aboveground storage tanks located at this facility as observed during the field survey.

Table 4-1A
Aboveground Tank Summary

AREA	QUANTITY	CAPACITY (GAL)	TANK MATERIAL	MATERIAL STORED	YEAR INSTALLED	TYPE OF SECONDARY CONTAINMENT
Bulk Storage	1	16,800	Steel	Produced Water	2019	Steel
Bulk Storage	1	16,800	Steel	Produced Water / Crude Oil	2019	Steel
Bulk Storage	2	16,800	Steel	Crude Oil	2019	Steel

As required by 40 CFR 112.7(c), transfer operations may occur outside the secondary containment area and could occasionally suffer a minor leak as hoses are disconnected. If the collection point falls outside the walls of the facility, a catch basin and a drip bucket with a lid will be used underneath the connection to catch any leaks or drips and will be emptied back into the oil storage tanks or the contents will be disposed of properly.

Table 4-1B
Aboveground Tank Information

TANK INFORMATION: Acadian 0806 11-2-1MH		
TANK PIPING	MATERIAL	Steel
	EXPOSURE	Piping above-ground at tanks
	SUPPORT DESIGN	N/A: Supported by soil
	CORROSION PROTECTION	Paint
	PROTECTION FROM VEHICLES	Secondary Containment
	CONTAINMENT	Same as Tanks
SECURITY	VALVE SECURITY	None
	PUMP STARTER CONTROLS	N/A: No Pump
	LIGHTING	None
	FIRE PROTECTION SYSTEM	None, field personnel have fire extinguishers in vehicles
	VISUAL INSPECTION SCHEDULE	Formal visual inspections conducted annually
DISCHARGE PREVENTION AND OIL HANDLING MEASURES		Employees are trained on the safe handling of oil.
PROBABILITY OF REACHING NAVIGABLE WATERS		High
FAILURE ANALYSIS	POTENTIAL TYPE FAILURE	Overfill
	PREDICTION OF SPILL DIRECTION	Northwest
	PREDICTION OF SPILL FLOW RATE	2,853 gph
	PREDICTION OF TOTAL SPILL QUANTITY	68,460 gpd
FAILURE ANALYSIS	POTENTIAL TYPE FAILURE	Rupture
	PREDICTION OF SPILL DIRECTION	Northwest
	PREDICTION OF SPILL FLOW RATE	1,000 gpm
	PREDICTION OF TOTAL SPILL QUANTITY	16,800 gal
FAILURE ANALYSIS	POTENTIAL TYPE FAILURE	Leakage
	PREDICTION OF SPILL DIRECTION	Northwest
	PREDICTION OF SPILL FLOW RATE	0.5 gpm
	PREDICTION OF TOTAL SPILL QUANTITY	720 gal
FAILURE ANALYSIS	POTENTIAL TYPE FAILURE	Faulty piping, etc.
	PREDICTION OF SPILL DIRECTION	Northwest
	PREDICTION OF SPILL FLOW RATE	80 gpm
	PREDICTION OF TOTAL SPILL QUANTITY	16,800 gal

4.2 FACILITY TRANSFER OPERATIONS

This section includes a summary of aboveground valves, piping, flowlines, and gathering lines transporting petroleum products located throughout the facility along with a description of flowline maintenance activities performed at the facility. Table 4-2A provides information identifying the location of piping and flowlines, size, construction material, type of materials transferred, and secondary containment. All piping is inspected in accordance with 40 CFR 112.9(d)(1) (See Inspection Schedule, Section 3.4.1). Personnel have been trained to unload product. Carriers must ensure that the cargo tank is attended by a “qualified person” at all times during unloading. A person “attends” the unloading of a cargo tank if throughout the process, the individual is awake, has an unobstructed view of the cargo tank, is within 25 feet of the tank, is aware of the nature of the hazardous material that is to be unloaded, has been instructed on the procedures to be followed in the event of an emergency, is authorized to move the cargo tank, and has the means to do so.

Qualified persons are trained in safety procedures for unloading operations. They must use means to ensure the tank truck does not prematurely leave the unloading area before the unloading process is complete and ensure that all lines have been disconnected.

Table 4-2A
Facility Transfer Operations

FACILITY	EQUIPMENT	SIZE	MATERIAL	MATERIALS TRANSFERRED	LOCATION
Acadian 0806 11-2-1MH	Valves	3.25"	Steel	Oil and produced water	Tank containment
Acadian 0806 11-2-1MH	Piping	3.25"	Steel	Oil and produced water	Tank containment
Acadian 0806 11-2-1MH	Flowline	3.25"	Steel	Oil and produced water	Flowline runs 153' southeast from wellhead to containment.

4.2.1 Flowline Maintenance

This section describes the flowline maintenance activities conducted at this facility as required by 40 CFR 112.9(d)(3) to prevent oil discharges from facility flowlines which are not within sized secondary containment. The purpose of these activities is to facilitate management of oil production operations in a manner that reduces the potential for a discharge. Common causes of such discharges include mechanical damage (i.e., impact, rupture) and corrosion. In addition to the maintenance activities discussed in this section, a contingency plan for the facility flowlines is provided in the Oil Spill Contingency Plan provided in the Company Specific portion.

The flowlines at this facility carry petroleum from the wellhead to the tank battery. A short section immediately adjacent to the well is above-ground; the remainder of the flowline from the wellhead to the containment area is buried. Piping within the secondary containment carries petroleum to the appropriate tanks and processing equipment.

Facility flowlines are inspected for any condition which could lead to a discharge (see Inspection Schedule). Facility flowlines are to be maintained in good condition. Any inspection finding will be corrected promptly and noted in this plan. In addition, flowlines are configured in a way as to minimize the risk of a discharge reaching navigable waterways. Paint and coatings are used on the facility flowlines to minimize corrosion. Table 4-2B describes specific flowline maintenance activities conducted at this facility.

Table 4-2B
Flowline Maintenance

FLOWLINE MAINTENANCE ACTIVITIES: Acadian 0806 11-2-1MH		
DISCHARGE PREVENTION MEASURES	FLOWLINE INSPECTIONS	Conducted annually (See Inspection Schedule, Section 3.4.1)
	FLOWLINE MAINTENANCE	Flowlines are maintained in good condition. When an inspection reveals an issue, it is corrected promptly in the form of a material repair or flowline replacement
	CORROSION PROTECTION	Paint
	PROTECTION FROM VEHICLES	Aboveground flowlines within secondary containment
	SUPPORT	Supported by soil inside containment. Buried outside containment.
DISCHARGE DETECTION MEASURES	LEAK DETECTION	Visual inspection, tank gauging
	AUTOMATIC SHUTOFF AT WELL	None
DISCHARGE PROTECTION MEASURES	CONFIGURATION	Flowlines outside secondary containment are buried except for those immediately adjacent to the wellhead. These lines flow from the well to the tank battery. All above-ground flowlines are within containment.

4.3 CONTAINMENT AND DRAINAGE STRUCTURES

This section includes the information required in 40 CFR 112.7(a)(3)(iii) and 40 CFR 112.7(c). Table 4-3A presents the information pertaining to containment structures located at the facility. Table 4-3B presents the information related to drainage and drainage control structures at the facility. In addition, a description of any treatment of drainage water is also included in this section.

In accordance with good engineering practice, container capacity is adequate to assure that a container will not overfill if a pumper/gauger is delayed in making regularly scheduled rounds.

Appropriate containment and/or diversionary structures or equipment are provided to prevent a discharge as described in §112.1(b). The entire containment system, including walls and floors, are capable of containing oil and are constructed to prevent escape of a discharge from the containment system before cleanup occurs. The methods, designs, and capacity for secondary containment address the typical failure mode and the most likely quantity of oil that would be discharged. For onshore facilities, one of the following or its equivalent:

- Dikes, berms, or retaining walls sufficiently impervious to contain oil,
- Curbing or drip pans,
- Sumps and collection systems,
- Culverting, gutters, or other drainage systems,
- Weirs, booms or other barriers,
- Spill diversion ponds,
- Retention ponds, or
- Sorbent materials.

Table 4-3A
Containment Structures

CONTAINMENT STRUCTURES: Acadian 0806 11-2-1MH								
CONTAINMENT				DISPLACEMENT				TOTAL
Area	Dike Material	Dimensions (LxWxH)	Gross Containment (gal.)	10-Year, 24-Hour Rain, 5.50" (gal.)	Tank Dia. (ft.)	Tank Disp. (gal.)	Total Disp. (gal.)	Net Containment (gal.)
Bulk	Steel	174' x 51' x 2.08'	138,065	30,423	3 @ 12' 1 @ 6' 2 @ 2.5'	5,871	36,294	101,771

Table 4-3B
Area Drainage

DRAINAGE SYSTEMS: Acadian 0806 11-2-1MH		
DRAINAGE CONTROL	FUNCTION OF DIKED AREAS	Contain spills and leakage from stock tanks.
	DIVERSIONARY STRUCTURES	N/A: No diversionary structures
	DIKE DRAINAGE MECHANISM	N/A: No drain
	DRAINAGE PUMP CONTROL	N/A: No pump
	DRAINAGE PUMP OUTFALL	N/A: No pump
	DRAINAGE PUMP INSPECTION	See Inspection Schedule, Section 3.4.1
	DRAINAGE VALVE LOCKING	N/A: No dike drain
	LAGOONS OR CATCHMENT BASINS	None present
	LAGOONS OR CATCHMENT BASIN FLOODING POTENTIAL	N/A: No lagoon or catchment basin
WATER TREATMENT UNIT	TYPE(S)	None
	FLOW BETWEEN TREATMENT UNITS	N/A: No treatment units
	NUMBER OF LIFT PUMPS	N/A: No lift pumps

4.4 SECURITY

The master flow, drain valves, and other valves that permit direct outward flow of the tank's content to the surface are in the closed position when in non-operating or non-standby status.

The loading/unloading connections of oil piping will be kept securely capped and blank-flanged when not in service or in standby service for an extended time. These security practices also apply to piping that is emptied of liquid content either by draining or by inert gas pressure.

Table 4-4 lists security measures in place at Acadian 0806 11-2-1MH

Table 4-4
Camino Natural Resources, LLC Security Measures

TOPIC	DESCRIPTION
CONTROL OF VISITORS	Facility is equipped with fencing and a gate.
VALVING CONTROL	None
OUT OF SERVICE PIPING OR TANKS	N/A: No out of service piping or tanks
OTHER	

4.4 ACHIEVING COMPLIANCE

Table 4-4 identifies the areas of non-compliance known to exist at Acadian 0806 11-2-1MH. The corrective action for each non-compliance issue is shown, as is the anticipated date of implementation of the corrective action.

Table 4-4
Compliance Schedule

NON-COMPLIANCE ISSUE	COMPLIANCE PLAN/CORRECTIVE ACTION	IMPLEMENTATION DATE
No signage at the wellhead	Install proper sign at the wellhead.	

5. Certifications and Approvals

5.1 Certification

CERTIFICATION BY REGISTERED PROFESSIONAL ENGINEER:

I am familiar with the requirements of the Code of Federal Regulations, Title 40, Part 112 (40 CFR 112). The information contained herein was gathered by my agent who has visited and examined this facility. My judgments are based on my examination of each area included in this spill prevention, control and countermeasure plan and on information provided to me by Camino Natural Resources, LLC personnel. This information is presumed correct.

This plan has been prepared for the Acadian 0806 11-2-1MH facility on August 29, 2019 in accordance with good engineering practice and with the requirements of the 40 CFR 112 (amended November 13, 2009). Procedures for required inspections and testing have been established. This plan is adequate for this facility. Adherence to the plan is the responsibility of Camino Natural Resources, LLC employees who service this facility.

(Seal)

Randall D. Holleyman

Printed Name of Registered Professional Engineer

Signature of Registered Professional Engineer

Date: 8/29/19 Registration No: 13999 State: OK

Approval by Management

§112.7 Management Approval

Management Approval
Owner/Operator responsible for facility: Camino Natural Resources Facility Name: Acadian 0806 11-2-1MH
Location: 35.17534, - 97.79419, Grady County, OK
I have completed a review and evaluation of the SPCC Plan for this facility. After determining that no significant changes have occurred at this facility, I approve the contents of the SPCC Plan as currently written and confirm that no amendments are necessary. Furthermore, I have the authority to commit the necessary resources to fully implement the SPCC Plan in accordance with the federal requirements of 40 CFR part 112. Signature: _____ Name: Joe Garcia Title: EVP Operations Date: _____ Designated person accountable for oil spill prevention at the facility: Name: Marty Smith Title: Production Superintendent

5.3 Certification of the Applicability of the Substantial Harm Criteria

Facility Name: Acadian 0806 11-2-1MH

Facility Address: Section 11 - T8N - R6W, Grady County, Oklahoma

1. Does the facility transfer oil over water or from vessels and does the facility have a total oil storage capacity greater than or equal to 42,000 gallons?
   Yes: ☐ No: ☒

2. Does the facility have a total oil storage capacity greater than or equal to 1 million gallons and does the facility lack secondary containment that is sufficiently large to contain the capacity of the largest aboveground oil storage tank plus sufficient freeboard to allow for precipitation within any aboveground oil storage tank area?
   Yes: ☐ No: ☒

3. Does the facility have a total oil storage capacity greater than or equal to 1 million gallons and is the facility located at a distance (as calculated using the appropriate formula in Attachment C-III to this appendix or a comparable formula 1) such that a discharge from the facility could cause injury to fish and wildlife and sensitive environments? For further description of fish and wildlife and sensitive environments, see Appendices I, II, and III to DOC/NOAA's "Guidance for Facility and Vessel Response Plans: Fish and Wildlife and Sensitive Environments" (see Appendix E to this part, section 13, for availability) and the application Area Contingency Plan.
   Yes: ☐ No: ☒

4. Does the facility have a total oil storage capacity greater than or equal to 1 million gallons and is the facility located at a distance (as calculated using the appropriate formula in Attachment C-III to this appendix or a comparable formula1) such that a discharge from the facility would shut down a public drinking water intake?

   1. If a comparable formula is used, documentation of the reliability and analytical soundness of the comparable formula must be attached to this form.

   2. For the purpose of 40 CFR part 112, public drinking water intakes are analogous to public water systems as described at 40 CFR 143.2(c).
      Yes: ☐ No: ☒

5. Does the facility have a total oil storage capacity greater than or equal to 1 million gallons and has the facility experienced a reportable oil discharge in an amount greater than or equal to 10,000 gallons with the last 5 years?
   Yes: ☐ No: ☒

Certification

I certify under penalty of law that I have personally examined and am familiar with the information submitted in this document and based on my inquiry of those individuals responsible for obtaining this information, I believe that the submitted information is true, accurate, and complete.

Signature: _____ **Date:** _____

Name : Joe Garcia

Title: EVP - Operations