3. FACILITY SPECIFIC INFORMATION

3.1 GENERAL INFORMATION

General information about the facility is provided in Table 3-1A. Personnel and government entities who will be contacted in the event of a spill or discharge are provided in Table 3-1B.

Table 3-1A
Facility Information

Facility Name		Vince Gill 1108-3-10-15 2WXH & 3MXH
Owner/Operator		Camino Natural Resources, LLC
Regulated Facility Type		Onshore Oil & Gas Production
Description of Facility		Facility processes oil and gas products
Date of Initial Facility Operation		2/11/2025
Date of Professional Engineer Certification		8/11/2025
Hours per Day Normally Attended		Not attended. Inspected periodically and on a regular schedule.
Maximum Petroleum Product Storage Capacity		134,400 gal.
Normal Daily Product Throughput		2,400 bpd
Addresses	Mailing	Camino Natural Resources, LLC Office, 4727 Gaillardia Parkway, Suite 200 Oklahoma City, OK 73142
	Physical (if different)	1200 17th St, Suite 2200 Denver, CO 80202
County		Canadian, Oklahoma
Latitude/Longitude (decimal degrees)	Latitude: N	35.46701°
	Longitude: W	-98.03324°
Phone Numbers (Corporate/Emergency)	Day	720.405.2735
	24-Hour	800.662.0492
"Qualified Individual" (Primary)	Name	Joe Garcia
	Position	EVP Operations
	Address	1200 17th St, Suite 2200, Denver, CO 80202
	Work Phone	720.405.2719
	24-Hour Phone	720.405.2719

Table 3-1A
Facility Information (continued)

"Qualified Individual" (Alternate)	Name	Marty Smith
	Position	Production Superintendent
	Address	1401 17th Street, Suite 1000, Denver, Colorado 80202
	Work Phone	405.438.0178
	24-Hour Phone	806.280.8888

Table 3-1B
Discharge Notification

Regulatory Authorities	Phone Number	Circumstances
National Response Center	800.424.8802	Discharge reaching navigable waters.
Oklahoma Corporation Commission - District III	580.255.0103	Discharges that do not pose emergency conditions.
EPA Region VI	214.665.2200	Discharge or 1,000 gallons or more; or second discharge or 42 gallons or more over a 12-month period.
Local Emergency Responders		
El Reno Police Department	(405) 2626-941	1) Injury requiring hospitalization or fatality. 2) Fire, explosion, or other impact that could affect public safety. 3) Release exceeding 24-hour reportable quantity. 4) Impact to areas beyond the facility's confines.
El Reno Fire Station 1	(405) 2622-949	
Emergency Medical Services	911	
Company Contacts		
Joe Garcia	720.405.2719	
Marty Smith	806.280.8888	
Spill Response		
See Oil Spill Contingency Plan, Section 2 Basin Environmental Safety & Technologies - 405.232.5737 *Contact when the discharge exceeds the capacity of facility personnel to respond and clean up.*		

3.2 FACILITY DRAINAGE AND SPILL CONSEQUENCE

A description of off-site consequences of a spill, including general drainage of the facility, is provided in Table 3-2. This section describes the overall facility drainage and identifies the bodies of water which would be impacted by a spill.

A diagram of the facility is provided in Figure 1, a county map is provided in Figure 2, topographic map is provided in Figure 3, driving directions to the facility is provided in Figure 4, and an Aerial Photo Map is provided in Figure 5.

In accordance with 40 CFR 112.7(a)(i), normal rainwater is allowed to evaporate. Under 40 CFR 112.8(c)(3)(iii) the bypass valves are opened and resealed under responsible supervision. Instances when accumulated rainwater reaches a volume that requires manual transfer, the owner/operator utilizes vacuum trucks and/or sump pumps to drain catch basins (if present) and secondary containment. In the event that manual transfer is not feasible, water can be recirculated into holding tanks to dispose of in accordance with regulatory standards. 40 CFR 112.8(c)(3)(ii) requires that retained rainwater is inspected to ensure that its presence will not cause a discharge as described in §112.1(b). As per 40 CFR 112.8(c)(3)(iv), adequate records of drainage are kept; for example, records required under permits issued in accordance with §122.41(j)(2) and (m)(3).

Table 3-2
Spill Consequence Information

FACILITY DRAINAGE	
Drainage Direction(s)	Southeast
Receiving Water(s)	Facility drains Southeast offsite approximately 780 feet to an unknown creek.
Containment and Diversionary Structures	Tank containment
Flooding Potential	Low

Facility Sign		Facility Overview
Separator Overview		**Tank Overview**

3.3 SPILL HISTORY

As required by 40 CFR 112.4(a), this subsection includes a description of oil spill events, and discharge events of 42 gallons (one barrel) or greater occurring within the twelve months prior to the preparation of this plan. Table 3-3 includes spills which impacted navigable water. In addition, this subsection includes a discussion of any corrective action taken to mitigate the spill and steps taken to prevent the possibility of a potential recurrence.

Table 3-3
Oil Spill Record

Spill Date	Oil Type	Source	Quantity	Water Bodies Impacted	Cleanup Date

There have been no spill or discharge events (42 gallons or greater) during the 12 months prior to the preparation of this plan.

3.4 INSPECTIONS AND TESTS

3.4.1 Inspections

In accordance with 40 CFR 112.9(c)(3), inspections of aboveground storage tanks are to be performed on a yearly basis along with frequent visual observations of the tanks for signs of deterioration or leaks. Buried piping is examined for corrosion each time they are exposed 40 CFR 112.9(d)(4)(ii). In accordance with 40 CFR 112.9(d)(4), aboveground piping and valves are also examined on a yearly basis.

The inspections required by 40 CFR 112 will be performed in accordance with the written procedures developed for the facility. A record of the inspections, signed by the appropriate supervisor or inspector, is located in the files of the district office and is maintained for a period of at least three years. These inspections are conducted on a facility (tank battery) basis.

3.5 TRAINING

To prevent the discharges of oil and to ensure compliance with applicable pollution control laws, rules, and regulations, Camino Natural Resources instructs the operating personnel in the proper use and maintenance of equipment (40 CFR 112.7(f)). Spill prevention training for operating personnel is scheduled and conducted on an annual basis to assure adequate understanding of the SPCC Plan for the facility. Such spill prevention-training highlights and describes known spill events or failures, malfunctioning components, and recently developed precautionary measures.

Personnel are trained in pollution control laws, rules and regulations, and in the operation and maintenance of equipment through continuing on-the-job training. The facility owners/operators are responsible for spill prevention training, operation and maintenance training, and training in regulatory requirements. See the training log sheet in the Main Camino Natural Resources SPCC Plan.

4. DESCRIPTION OF STORAGE, DRAINAGE AND CONTAINMENT STRUCTURES

This section includes information on the types of oil storage tanks, materials and quantities of oil stored, and areas on the facility that are required to be covered under this SPCC plan as defined by 40 CFR 112.1. Tanks and containers included in this plan are aboveground storage tanks, mobile or portable storage tanks, piping, and other transfer equipment. The location of each item present is also identified.

4.1 ABOVEGROUND STORAGE TANKS

This subsection includes the information required by 40 CFR 112.7(a)(3)(i-iii), 112.7(b), 112.7(c). Table 4-1 provides information identifying location of tanks, capacity of tanks, tank material, type of material stored, year installed, and type of secondary containment.

Table 4-1
Facility Storage Container Description, Capacity and Oil Type [§112.7(a)(3)(i)]

Tank Number	1	2	3	4	5	6	7	8	9	10	11	12	13	14
Use of Tank / Contents	O1	O2	O3	O4	O5	O6	SW1	SW2	SP1	SP2	SP3	SP4	HT1	HT2
Manufacturer	HMI	HMI	HMI	HMI	HMI	HMI	HMI	HMI	Allstates	Allstates	Allstates	Allstates	Allstates	Allstates
Nominal Capacity – Bbls	400	400	400	400	400	400	400	400	9	9	9	2	100	100
Nominal Capacity - Gals	16,800	16,800	16,800	16,800	16,800	16,800	16,800	16,800	378	378	378	84	4,200	4,200
Nominal Diameter – Ft	12	12	12	12	12	12	12	12	2.5	2.5	4	2	6	6
Nominal Height/Length-Ft	20	20	20	20	20	20	20	20	10	10	10	3	20	20
Serial Number	T400-2919	T400-2921	T400-2924	T400-2920	T400-2925	T400-2923	T400-2922	T400-2927	-	-	-	-	-	-
Year Built	2024	2024	2024	2024	2024	2024	2024	2024	2024	2024	2024	2024	2024	2024
Shop Fabricated/Field Erected	Shop	Shop	Shop	Shop	Shop	Shop	Shop	Shop	Shop	Shop	Shop	Shop	Shop	Shop
Bottom Thickness – In.	1/4	1/4	1/4	1/4	1/4	1/4	1/4	1/4	-	-	-	-	-	-
Shell Thickness – In.	3/16	3/16	3/16	3/16	3/16	3/16	3/16	3/16	-	-	-	-	-	-
Deck Thickness – In.	3/16	3/16	3/16	3/16	3/16	3/16	3/16	3/16	-	-	-	-	-	-
Container Material	ST	ST	ST	ST	ST	ST	ST	ST	ST	ST	ST	ST	FG	FG
Tank Condition (P,NP,RTY)	P	P	P	P	P	P	P	P	P	P	P	P	P	P
Type Construction	W	W	W	W	W	W	W	W	W	W	W	W	M	M
Container Foundation Material	GR	GR	GR	GR	GR	GR	GR	GR	GR	GR	GR	GR	GR	GR
Top	C	C	C	C	C	C	C	C	C	C	C	C	C	C

SP	Separator	FWKO	Free Water Knockout	HT	Heater Treater	O	Oil Storage Tank
CH	Chemical	SW	Saltwater Storage Tank	GB	Gun Barrel	LH	Line Heater
ST	Steel	FG	Fiberglass	GU	Glycol Unit	M	Molded
W	Welded	C	Closed	OP	Open Topped	N	Netted
WD	Wooden	R	Riveted	GR	Gravel	E	Earthen Material
NP	Not Painted	PU	Production Unit	OOS	Out of Service	FT	Frac Tank
RW	Ring Wall	CN	Concrete	P	Painted	RTY	Rusty/Corroded
TEG	TEG Contactor						

As required by 40 CFR 112.7(c), transfer operations may occur outside the secondary containment area and could occasionally suffer a minor leak as hoses are disconnected. If the collection point falls outside the walls of the facility, a catch basin and a drip bucket with a lid will be used underneath the connection to catch any leaks or drips and will be emptied back into the oil storage tanks or the contents will be disposed of properly.

4.2 FACILITY TRANSFER OPERATIONS

This section includes a summary of aboveground valves, piping, flowlines, and gathering lines transporting petroleum products located throughout the facility along with a description of flowline maintenance activities performed at the facility. Table 4-2A provides information identifying the location of piping and flowlines, size, construction material, type of materials transferred, and secondary containment. All piping is inspected in accordance with 40 CFR 112.9(d)(1) (See Inspection Schedule, Section 3.4.1). Personnel have been trained to unload product. Carriers must ensure that the cargo tank is attended by a "qualified person" at all times during unloading. A person "attends" the unloading of a cargo tank if throughout the process, the individual is awake, has an unobstructed view of the cargo tank, is within 25 feet of the tank, is aware of the nature of the hazardous material that is to be unloaded, has been instructed on the procedures to be followed in the event of an emergency, is authorized to move the cargo tank, and has the means to do so.

Qualified persons are trained in safety procedures for unloading operations. They must use means to ensure the tank truck does not prematurely leave the unloading area before the unloading process is complete and ensure that all lines have been disconnected.

Table 4-2A
Facility Transfer Operations

FACILITY	EQUIPMENT	SIZE	MATERIAL	MATERIALS TRANSFERRED	LOCATION
Vince Gill 1108-3-10-15 2WXH & 3MXH	Valves	3.00"	Steel	Oil and produced water	Tank containment
Vince Gill 1108-3-10-15 2WXH & 3MXH	Piping	3.00"	Steel	Oil and produced water	Tank containment

4.2.1 Flowline Maintenance

This section describes the flowline maintenance activities conducted at this facility as required by 40 CFR 112.9(d)(3) to prevent oil discharges from facility flowlines which are not within sized secondary containment.

The flowlines at this facility carry petroleum from the wellhead to the tank battery. A short section immediately adjacent to the well is above-ground; the remainder of the flowline from the wellhead to the containment area is buried. Piping within the secondary containment carries petroleum to the appropriate tanks and processing equipment.

Facility flowlines are inspected for any condition which could lead to a discharge (see Inspection Schedule). Facility flowlines are to be maintained in good condition. Any inspection finding will be corrected promptly and noted in this plan. In addition, flowlines are configured in a way as to minimize the risk of a discharge reaching navigable waterways. Paint and coatings are used on the facility flowlines to minimize corrosion. Table 4-2B describes specific flowline maintenance activities conducted at this facility.

Table 4-2B
Flowline Maintenance

Vince Gill 1108-3-10-15 2WXH & 3MXH FLOWLINE MAINTENANCE ACTIVITIES		
DISCHARGE PREVENTION MEASURES	FLOWLINE INSPECTIONS	Conducted annually (See Inspection Schedule, Section 3.4.1)
	FLOWLINE MAINTENANCE	Flowlines are maintained in good condition. When an inspection reveals an issue, it is corrected promptly in the form of a material repair or flowline replacement
	CORROSION PROTECTION	Paint
	PROTECTION FROM VEHICLES	Aboveground flowlines within secondary containment
	SUPPORT	Supported by soil inside containment. Buried outside containment.
DISCHARGE DETECTION MEASURES	LEAK DETECTION	Visual inspection, tank gauging
	AUTOMATIC SHUTOFF AT WELL	None
DISCHARGE PROTECTION MEASURES	CONFIGURATION	Flowlines outside secondary containment are buried except for those immediately adjacent to the wellhead. These lines flow from the well to the tank battery. All above-ground flowlines are within containment.

4.3 CONTAINMENT AND DIVERSIONARY STRUCTURES

This section includes the information required in 40 CFR 112.7(a)(3)(iii) and 40 CFR 112.7(c). Table 4-3 presents the information pertaining to containment structures located at the facility.

In accordance with good engineering practice, container capacity is adequate to assure that a container will not overfill if a pumper/gauger is delayed in making regularly scheduled rounds.

Appropriate containment and/or diversionary structures or equipment are provided to prevent a discharge as described in §112.1(b). The entire containment system, including walls and floors, are capable of containing oil and are constructed to prevent escape of a discharge from the containment system before cleanup occurs. The methods, designs, and capacity for secondary containment address the typical failure mode and the most likely quantity of oil that would be discharged. For onshore facilities, one of the following or its equivalent:

- Dikes, berms, or retaining walls sufficiently impervious to contain oil,
- Curbing or drip pans,
- Sumps and collection systems,
- Culverting, gutters, or other drainage systems,
- Weirs, booms or other barriers,
- Spill diversion ponds,
- Retention ponds, or
- Sorbent materials.

Table 4-3A
Containment Structures

Vince Gill 1108-3-10-15 2WXH & 3MXH

Secondary Containment

Length (feet)	208
Width (feet)	44
Height (inches)	27
Total Capacity without tank displacements (ft3)	20592.00
Total Capacity without tank displacements (bbls)	3668
Berm Ht(Ft)	2.25
Tank Volume displaced up to berm ht (bbl)	45.0
Total Berm Cap W/allTanksminus1 (bbl)	3317
Volume per inch w/Tanks (bbl)	122.9
Volume taken by rain (bbl)	883

Tanks

No. of 10' OD tanks in berm	0
No. of 12' OD tanks in berm	8
No. of 15.5' OD tanks in berm	0
Largest tank, gun barrel or vessel in berm (bbls)	400
Tank OD	12
Tank Ht.	20
Tank volume bbl per foot	20

Other Vessels Inside Berm

No. of 30" OD in berm	3
Volume of 30" OD Vessels (ft3)	33.1
No. of 4' OD in berm	1
Volume of 4' OD Vessles (ft3)	28.3
No. of 6' OD in berm	2
Volume of 6' OD Vessles (ft3)	127
Total Gallons Displaced by Other Vessels	1,411
Total Barrels displaced by Other Vessels	33.6

Precipitation

Precipitation 24 hr 25 year, Canadian County, OK (In	6.5

Calculations

Berm Calculations

	bbl		
Total Berm Cap W/Out Tanks	3668		
Total Berm Cap W/volume of tanks minus 1	3317	Largest Vol. Removed	

Volume inside tank up to berm Ht.

	ft3	gal	bbl
210 bbl (10' dia)	176.71	1321.96	31.48
400 bbl (12' dia)	254.46	1903.63	45.32
750 bbl (15.5' dia)	424.54	3176.02	75.62

Required Volume

	bbl
110 % of largest tank plus 24 hr 25 yr rainfall	1323

Actual Volume

	bbl
Total Berm Capacity minus Vol Displaced	3317

Compliance Percentage: 251%

Pass

Note: 40 CFR 112.9C(2) requires secondary containment for the entire capacity of the largest single container and sufficient freeboard to contain precipitaiton. Therfore, subtract the volume of the largest tank from the secondary containment capacity.

Instructions for spreadsheet: Enter the data in the spreadsheet. Be sure to use the correct units (feet, inches, etc.) It is assumed that the largest single tank has a hole in the bottom and all tanks but the tank with the hole in it displaces fluid and reduces the berm capacity. Consequently the number of tanks displacing fluids for the largest size of tank in the berm will be the total number of site tank minus 1.

4.4 SECURITY

This section is Not Applicable for oil production facilities.

4.5 ACHIEVING COMPLIANCE

Table 4-4 identifies the areas of non-compliance known to exist at Vince Gill 1108-3-10-15 2WXH & 3MXH. The corrective action for each non-compliance issue is shown, as is the anticipated date of implementation of the corrective action.

Table 4-5
Compliance Schedule

NON-COMPLIANCE ISSUE	COMPLIANCE PLAN/CORRECTIVE ACTION	IMPLEMENTATION DATE

5. Certifications and Approvals

5.1 Certification

P.E. Certification

Owner/Operator responsible for facility: Camino Natural Resources

Facility Name: Vince Gill 1108-3-10-15 2WXH & 3MXH

Location: 35.46701 , -98.03324 , Canadian County, OK

By means of this Professional Engineer Certification, I hereby attest, to the best of my knowledge and belief, to the following:

- I am familiar with the requirements of 40 CFR part 112 and have verified that this SPCC Plan has been prepared in accordance with the requirements of this Part
- I or my agent have visited and examined the facility(s)
- I have verified that this Plan has been prepared in accordance with good engineering practice, including consideration of applicable industry standards
- I have verified that the required inspection and testing procedures have been established
- I have verified that the Plan is adequate for the facilities

Name: Kurt M. Hibbard, P.E.
Printed Name of Registered Professional Engineer

Signature: Kurt M. Hibbard Digitally signed by Kurt M. Hibbard Date: 2025.08.11 06:02:15 CDT (Seal):

LICENSED PROFESSIONAL ENGINEER
KURT M. HIBBARD
27683
OKLAHOMA

Date: 08/11/2025 Registration No.: 27683 State: Oklahoma

5.2 Approval by Management

§112.7 Management Approval

Management Approval
Owner/Operator responsible for facility: Camino Natural Resources Facility Name: Vince Gill 1108-3-10-15 2WXH & 3MXH
Location: 35.46701, -98.03324, Canadian County, OK
I hereby approve the contents of the facility's Spill Prevention, Control, and Countermeasure Plan (SPCC Plan) and have the authority to commit the necessary resources to fully implement the SPCC Plan, as set forth in this document, in accordance with the federal requirements of 40 CFR part 112. Signature: _____ Name: _____Joe Garcia _____ Title: _____EVP Operations_____ Date: _____ Designated person accountable for oil spill prevention at the facility: Name: _____Marty Smith _____ Title: ____Production Superintendent _____

5.3 Certification of the Applicability of the Substantial Harm Criteria

Facility Name: Vince Gill 1108-3-10-15 2WXH & 3MXH

Facility Address: 35.46701, -98.03324, Canadian County, Oklahoma

1. Does the facility transfer oil over water or from vessels and does the facility have a total oil storage capacity greater than or equal to 42,000 gallons?
   Yes:___ No:_X_

2. Does the facility have a total oil storage capacity greater than or equal to 1 million gallons and does the facility lack secondary containment that is sufficiently large to contain the capacity of the largest aboveground oil storage tank plus sufficient freeboard to allow for precipitation within any aboveground oil storage tank area?
   Yes:___ No:_X_

3. Does the facility have a total oil storage capacity greater than or equal to 1 million gallons and is the facility located at a distance (as calculated using the appropriate formula in Attachment C-III to this appendix or a comparable formula 1) such that a discharge from the facility could cause injury to fish and wildlife and sensitive environments? For further description of fish and wildlife and sensitive environments, see Appendices I, II, and III to DOC/NOAA's "Guidance for Facility and Vessel Response Plans: Fish and Wildlife and Sensitive Environments" (see Appendix E to this part, section 13, for availability) and the application Area Contingency Plan.
   Yes:___ No:_X_

4. Does the facility have a total oil storage capacity greater than or equal to 1 million gallons and is the facility located at a distance (as calculated using the appropriate formula in Attachment C-III to this appendix or a comparable formula 1) such that a discharge from the facility would shut down a public drinking water intake?
   1 If a comparable formula is used, documentation of the reliability and analytical soundness of the comparable formula must be attached to this form.
   2 For the purpose of 40 CFR part 112, public drinking water intakes are analogous to public water systems as described at 40 CFR 143.2(c).
   Yes:___ No:_X_

5. Does the facility have a total oil storage capacity greater than or equal to 1 million gallons and has the facility experienced a reportable oil discharge in an amount greater than or equal to 10,000 gallons with the last 5 years?
   Yes:___ No:_X_

Certification
I certify under penalty of law that I have personally examined and am familiar with the information submitted in this document and based on my inquiry of those individuals responsible for obtaining this information, I believe that the submitted information is true, accurate, and complete.

Signature:_____**Date:** _____

Name: ____Joe Garcia___

Title: _____EVP Operations__

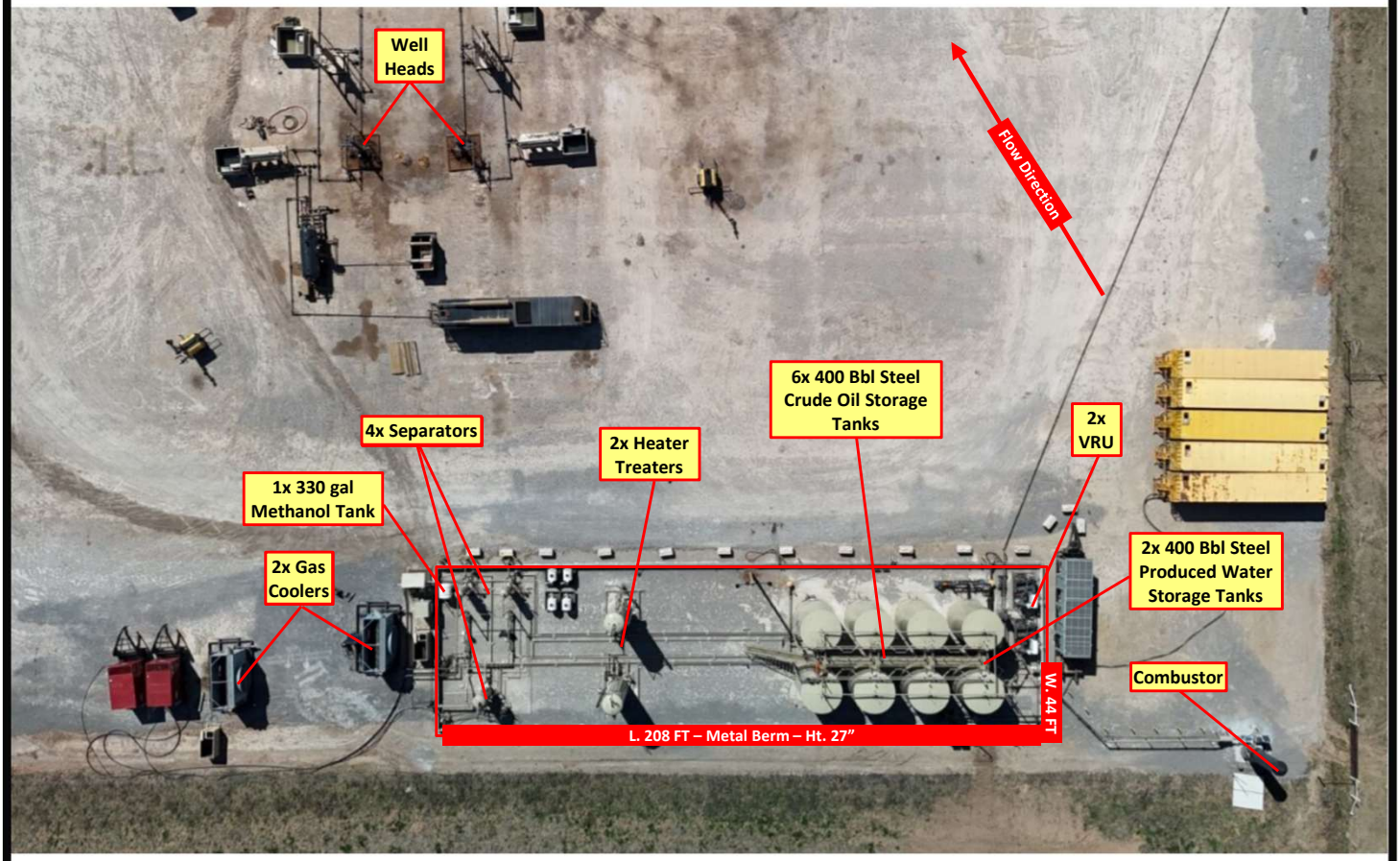

N ↓

FACILITY SITE PLAN CAMINO NATURAL RESOURCES Vince Gill 1108-3-10-15 2WXH & 3MXH 35.46701, -98.03324 CANADIAN COUNTY, OKLAHOMA	Baber Environmental Assistance & Remediation, LLC	DATE: 8/8/2025	DWG BY: ILH
		FILE NO.:	FIGURE NO.: 1

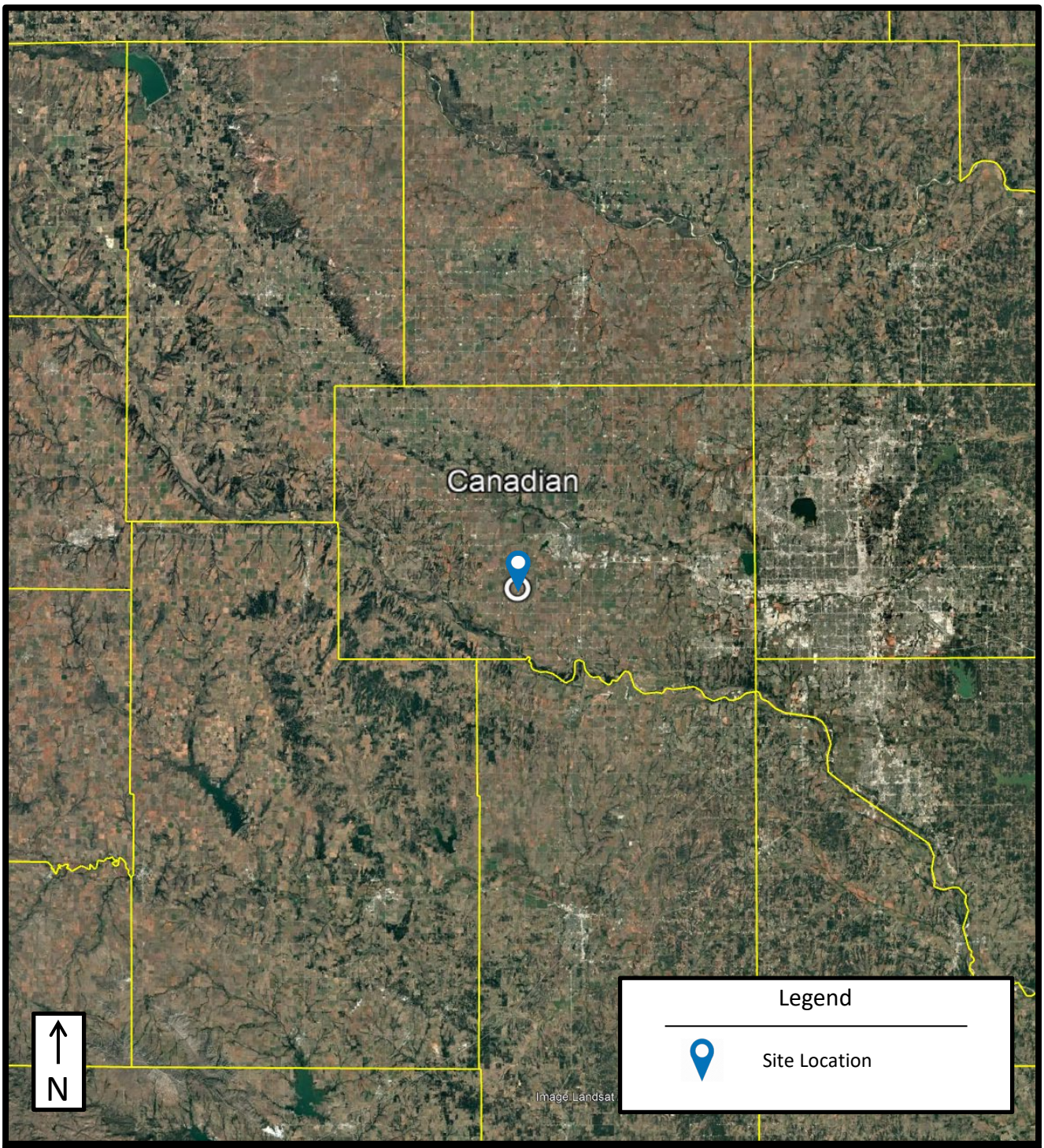

CANADIAN COUNTY MAP
CAMINO NATURAL RESOURCES
Vince Gill 1108-3-10-15 2WXH & 3MXH
35.46701, -98.03324
CANADIAN COUNTY, OKLAHOMA

Baber Environmental Assistance & Remediation, LLC

DATE: 8/8/2025	DWG BY: ILH
FILE NO.:	FIGURE NO.: 2

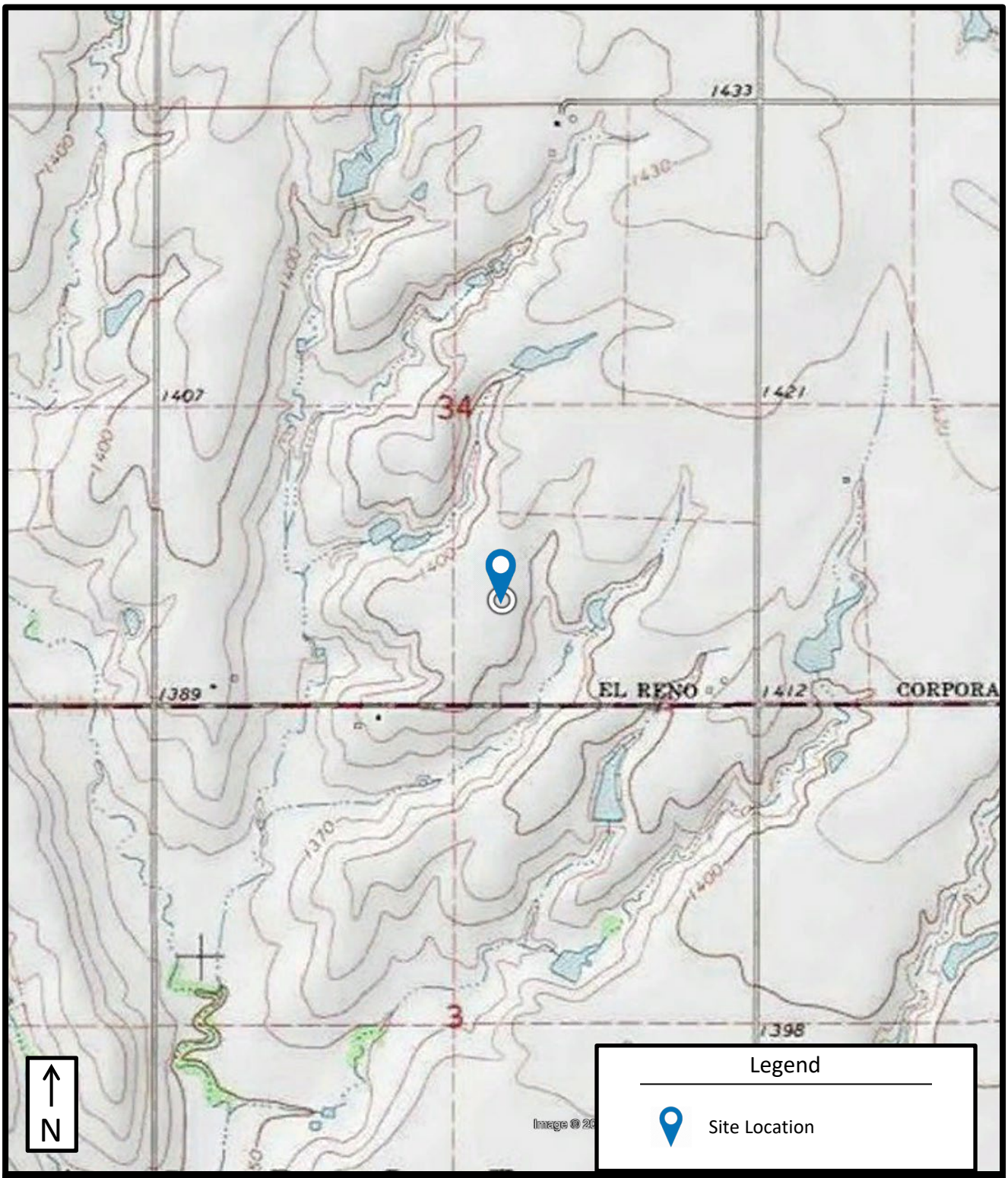

TOPOGRAPHIC MAP
CAMINO NATURAL RESOURCES
Vince Gill 1108-3-10-15 2WXH & 3MXH
35.46701, -98.03324
CANADIAN COUNTY, OKLAHOMA

Baber Environmental Assistance & Remediation, LLC

DATE: 8/8/2025	DWG BY: ILH
FILE NO.:	FIGURE NO.: 3

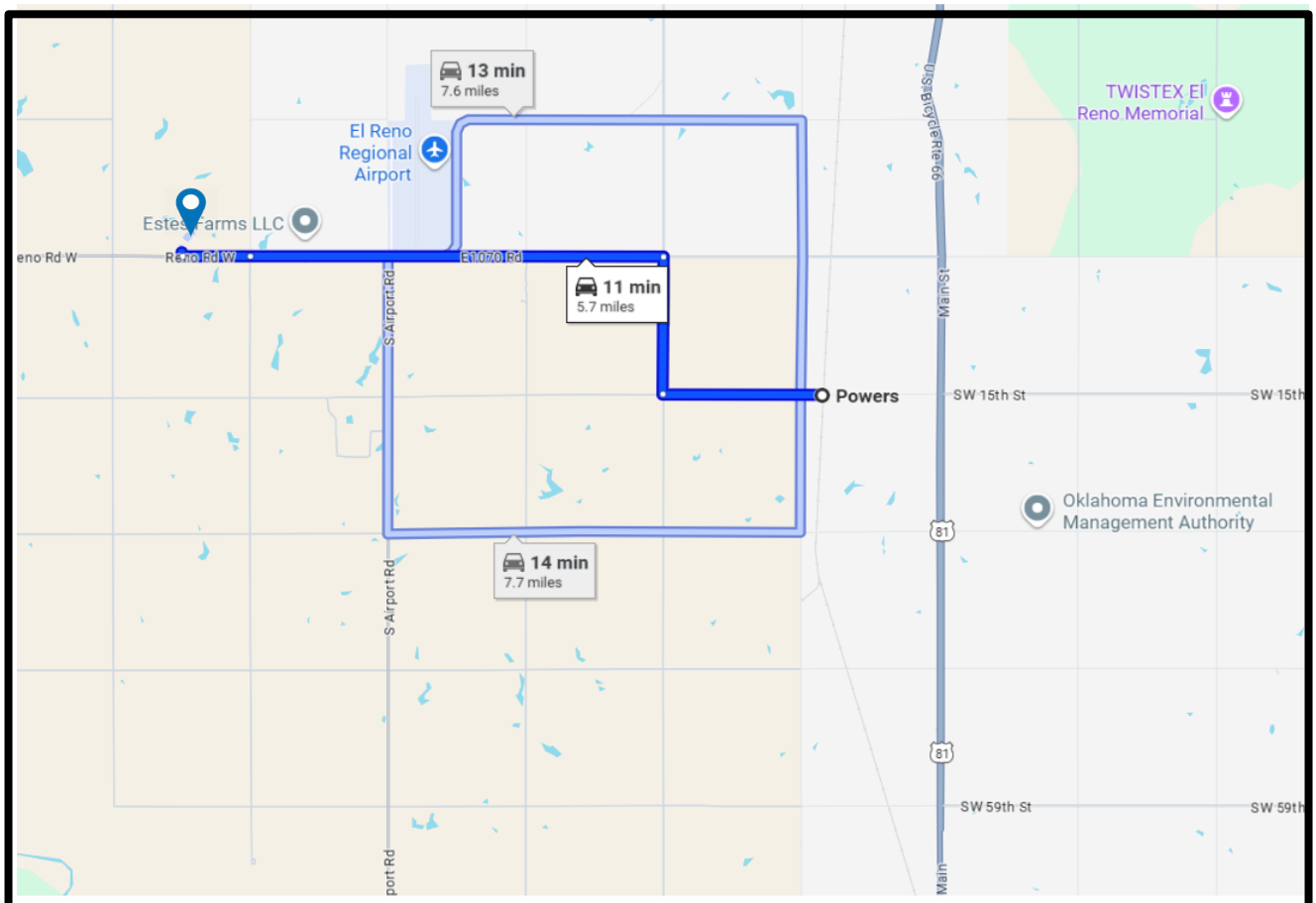

Powers
Union City, OK 73090

1. Head west on SW 15th St toward S Choctaw Ave/N2830 Rd — 1.2 mi
2. Turn right onto S Country Club Rd/N2820 Rd — 1.0 mi
3. Turn left onto E1070 Rd/W Reno Okc St — 3.0 mi
   Continue to follow E1070 Rd
4. Continue onto Reno Rd W — 0.5 mi
5. Turn right — 161 ft

N

Legend

Site Location

DRIVING DIRECTIONS
CAMINO NATURAL RESOURCES
Vince Gill 1108-3-10-15 2WXH & 3MXH
35.46701, -98.03324
CANADIAN COUNTY, OKLAHOMA

Baber Environmental Assistance & Remediation, LLC

DATE: 8/8/2025	DWG BY: ILH
FILE NO.:	FIGURE NO.: 4

AERIAL PHOTO MAP
CAMINO NATURAL RESOURCES
Vince Gill 1108-3-10-15 2WXH & 3MXH
35.46701, -98.03324
CANADIAN COUNTY, OKLAHOMA

Baber Environmental Assistance & Remediation, LLC

DATE: 8/8/2025	DWG BY: ILH
FILE NO.:	FIGURE NO.: 5